Road Damage and Accident Risk Analytics Dashboard using Business Intelligence

10-02-2026 00:23:10

Date

All

Location

- Delhi
- Gujarat
- Karnataka
- Kerala
- Madhya Prade...
- Maharashtra
- Rajasthan
- Tamil Nadu
- Telangana
- Uttar Pradesh

Conditions

- Dry
- Hot
- Humid
- Rainy

Total Roads	Total Accidents	Response Time	Total Cracks	Total Potholes
10000	74531	36.59	199K	126K

Accident Risk Category Overview

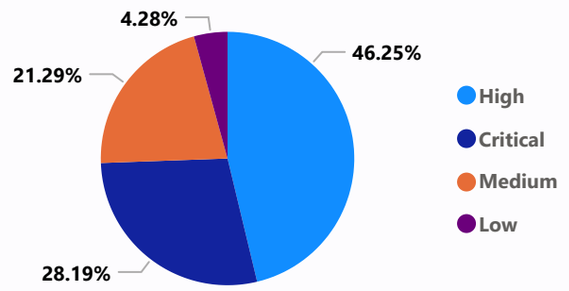

Repair Status Distribution

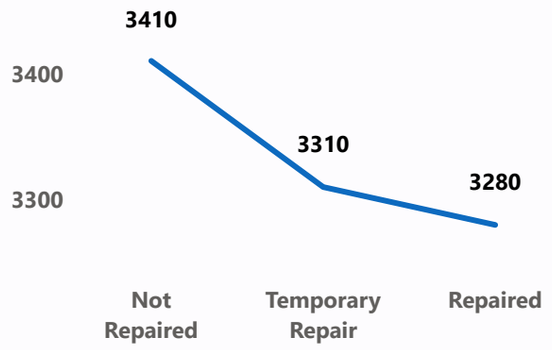

Total Potholes by State

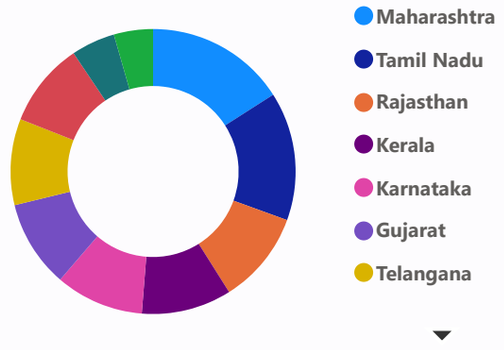

Weather Condition

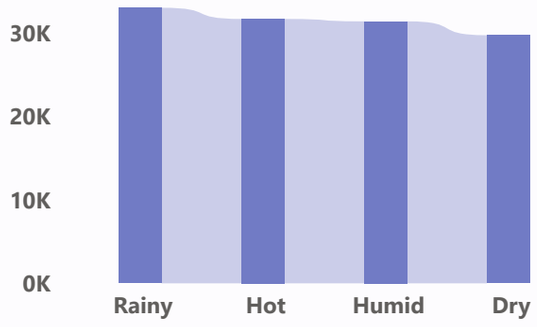

Damage Reports Over Time

Road Type VS Crack Distribution

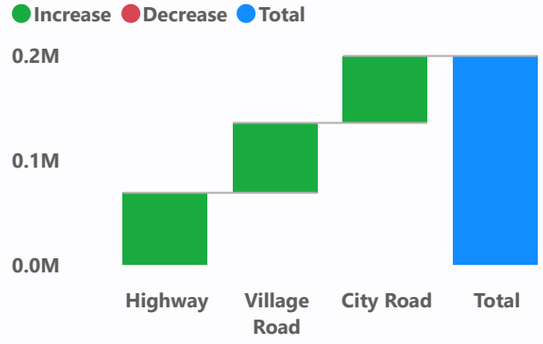

DAMAGE ANALYSIS

Pothole & Crack Distribution Insights

10-02-2026 00:23:10

Total Potholes

125850

Total Cracks

199379

Road Type Filter

City Road | Highway | Village Road

City-wise Pothole Distribution

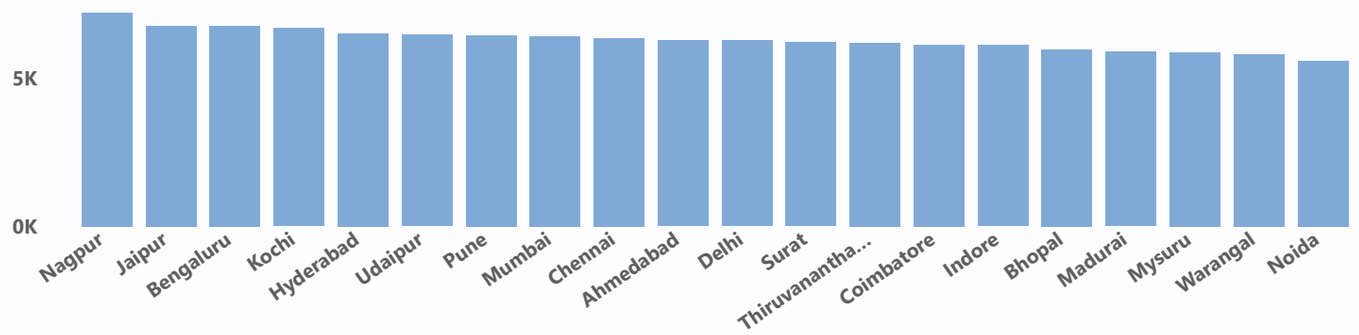

State-wise Crack Distribution

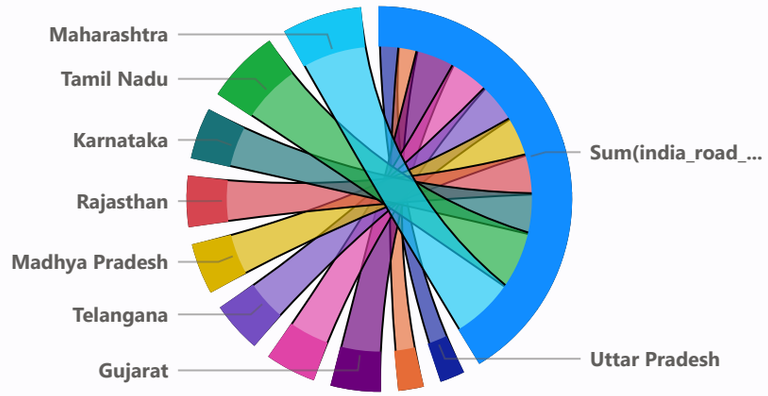

Crack Type Percentage

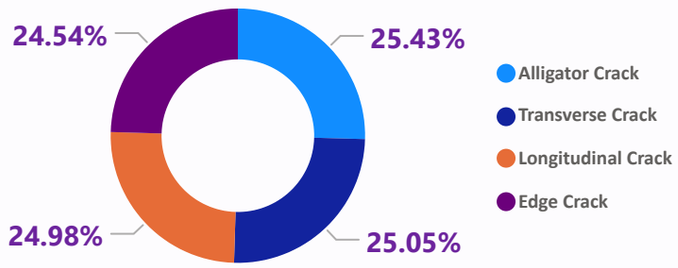

City	Sum of Pothole Count	Sum of Crack Count
Delhi	6262	9365
Bhopal	5973	9785
Bengaluru	6757	10631
Pune	6435	10640
Nagpur	7211	10999
Total	**32638**	**51420**

Damage Managed by Authorities

Panchayat	Municipality	Highways Dept
110983	108915	105331

ACCIDENT ANALYSIS

Road Accident Statistics & Breakdown

10-02-2026 00:23:10

Total Accidents

74531

Critical Risk Roads

2800

High Risk Roads

4645

Weather Filter

Dry | Hot | Humid | Rainy

Traffic Level Filter

All

Monthly Accident Trend

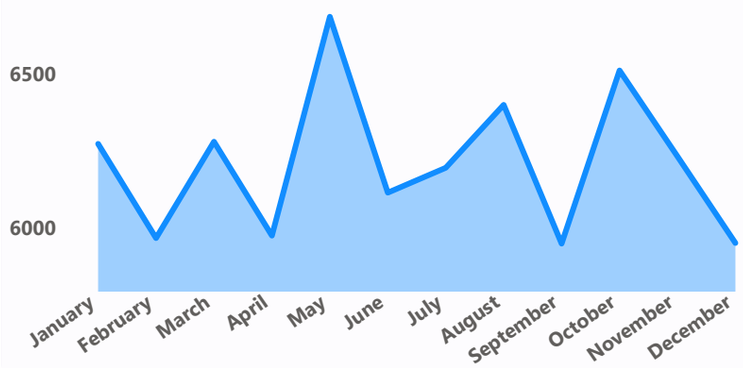

Traffic Density vs Accident Correlation

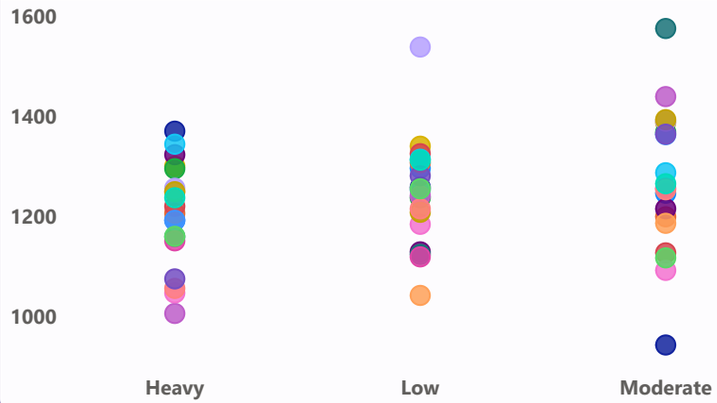

Speed Risk Indicator

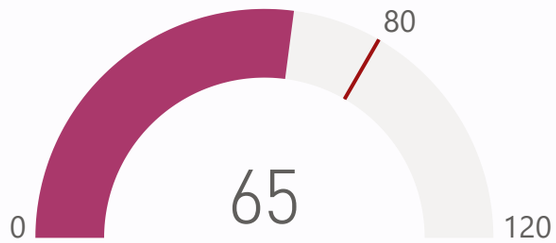

Statistical Spread of Road Accident Risk

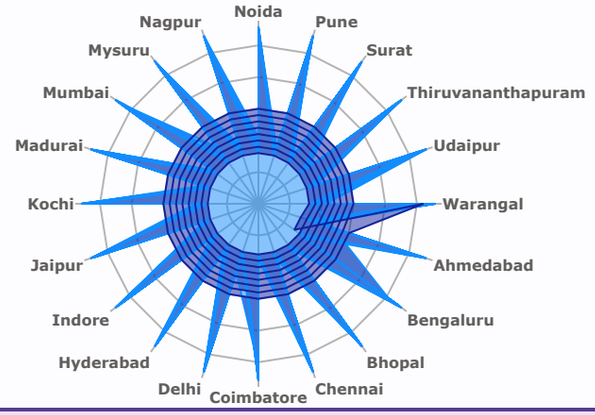

Accident Distribution by Speed Category

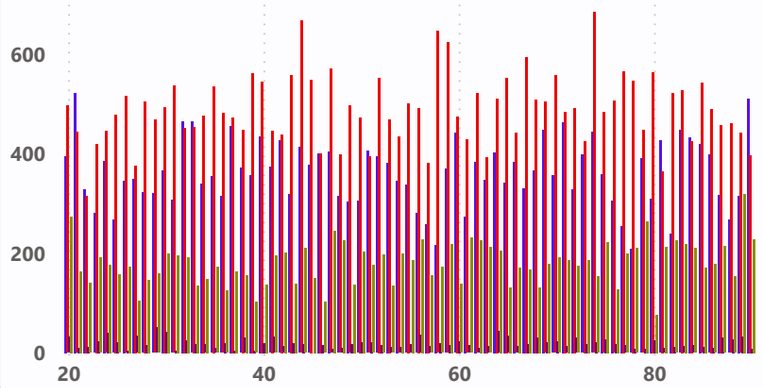

MAINTENANCE ANALYSIS

Weather Impact on Road Condition & Repair Planning

Filter

Avg Rainfall

100.39

Avg Response Time

36.59

Rainfall Influence on Accident Frequency

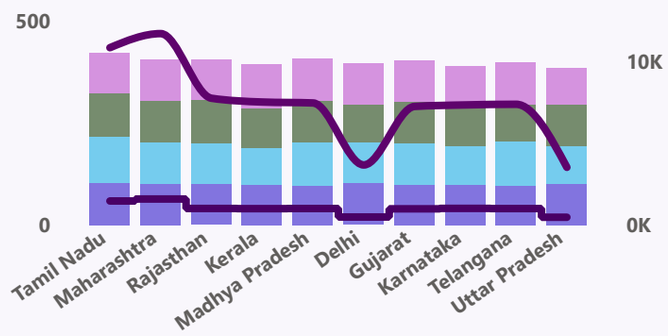

Visibility Condition Breakdown

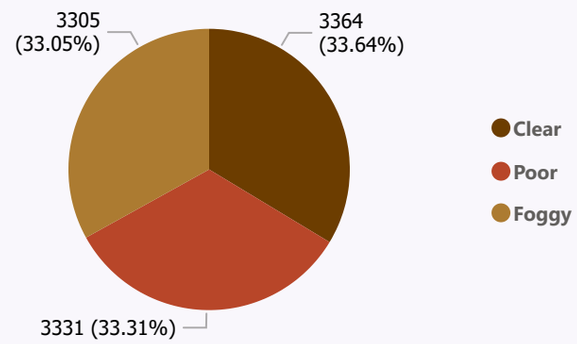

Rainfall Trend Analysis

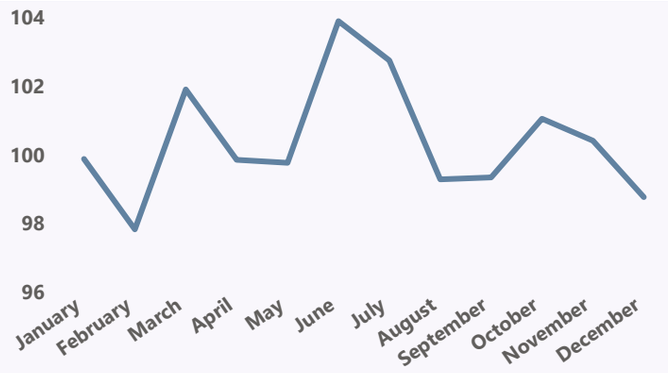

Severity Impact on Repair Time

City	Total Roads	Avg Rainfall	Total Accidents
Ahmedabad	507	99.88	3734
Bengaluru	536	100.24	4027
Bhopal	486	99.94	3571
Chennai	493	106.42	3712
Coimbatore	493	101.28	3667
Delhi	483	100.01	3672
Hyderabad	515	98.65	3858
Indore	517	100.48	3900
Jaipur	511	101.81	3945
Kochi	499	100.95	3808
Madurai	478	103.56	3478
Mumbai	510	100.88	3686
Mysuru	475	96.49	3323
Nagpur	542	102.77	4184
Noida	468	97.33	3526
Pune	534	100.27	3850
Surat	477	99.95	3524
Thiruvananthapuram	496	99.59	3720
Udaipur	495	100.64	3814
Warangal	485	96.12	3532
Total	**10000**	**100.39**	**74531**

CITY LEVEL ANALYSIS

Road Safety, Weather Impact & Repair Planning

Filter

Total Cities
20

Fill Pothole Count
2132

Immediate Barricade Count
2800

Resurface Road Count
4645

Total Road Damage
325K
▲ 8.7%
Last Year: 299K

Pending Repairs
3410
▲ 8.2%
Last Year: 3152

Completed Repairs
3280
▲ 8.9%
Last Year: 3013

Urban Road Damage Indicator

31765
Goal: 15289 (+107.76%)

City Infrastructure Risk Profile

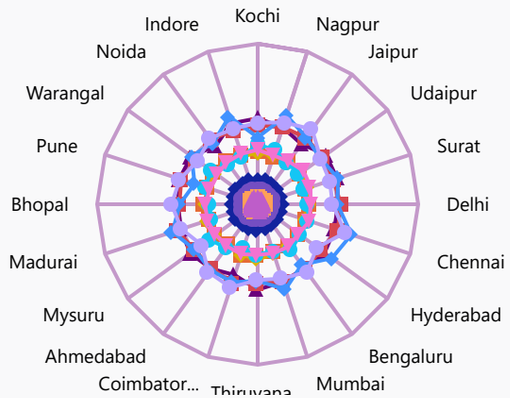

Pothole Severity Distribution by City

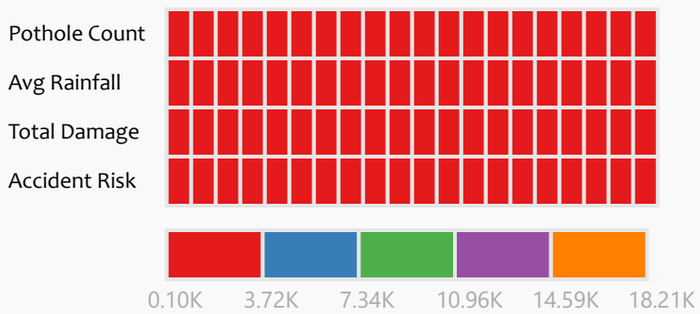

Traffic Density Impact on Road Monitoring

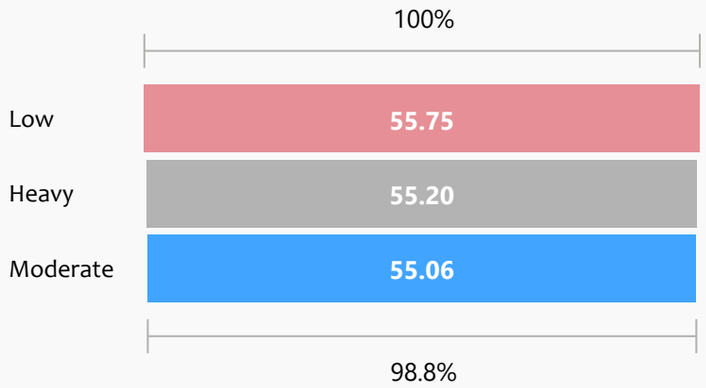

TIME TREND ANALYSIS

Analyzing Road Damage Trends for Smarter Maintenance

Filter

Avg Monthly Damage

27,102

Authority Responsible Rating

★★★★★

Repair Completion Rate

32.80

DONE

Damage Components VS Total

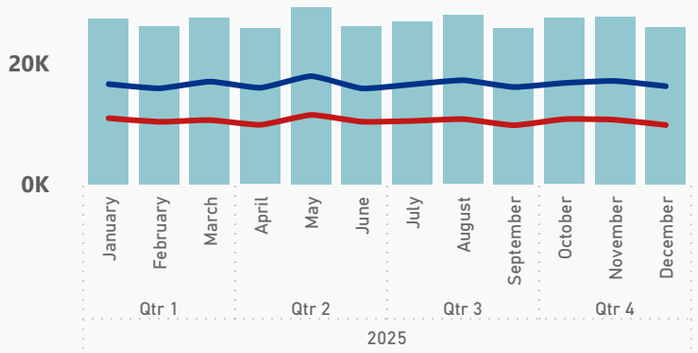

Monthly Distribution of Response Time

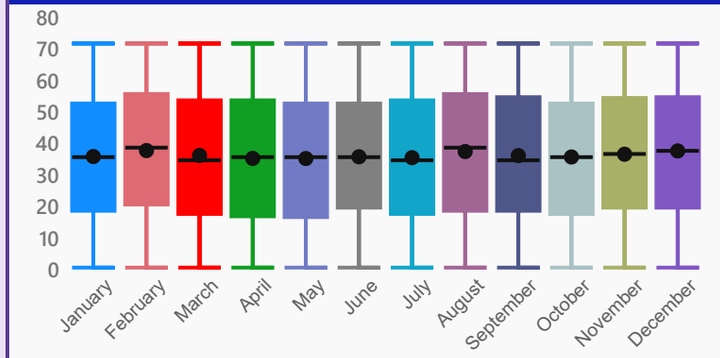

Flow of Speed VS Maintenance Priority

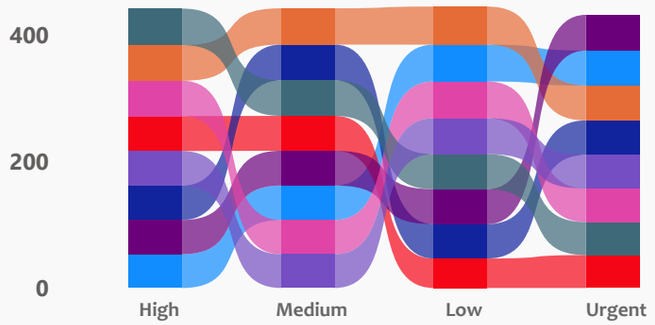

Road Damage Hotspots

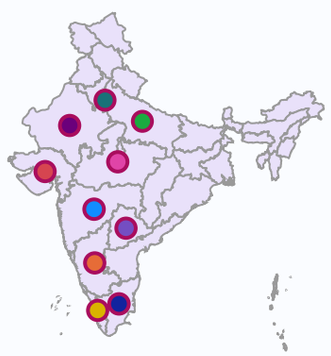

Operational Response Efficiency Distribution

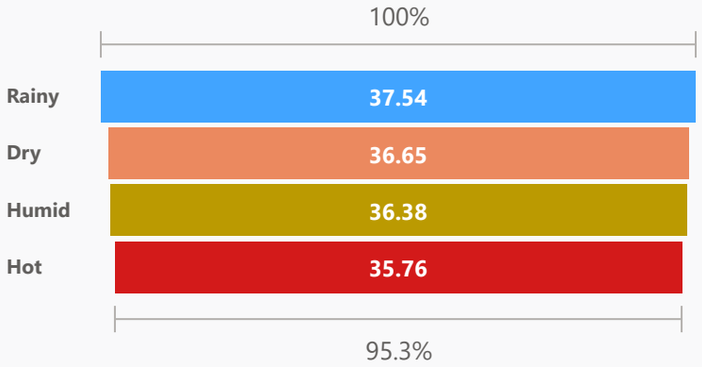
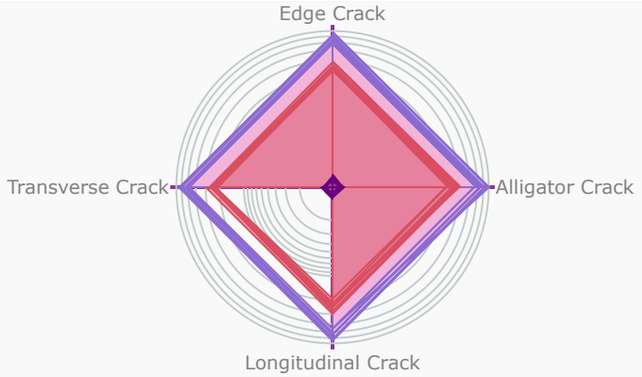
Surface Condition Impact on Risk Levels